

Tide-Tracker-3000

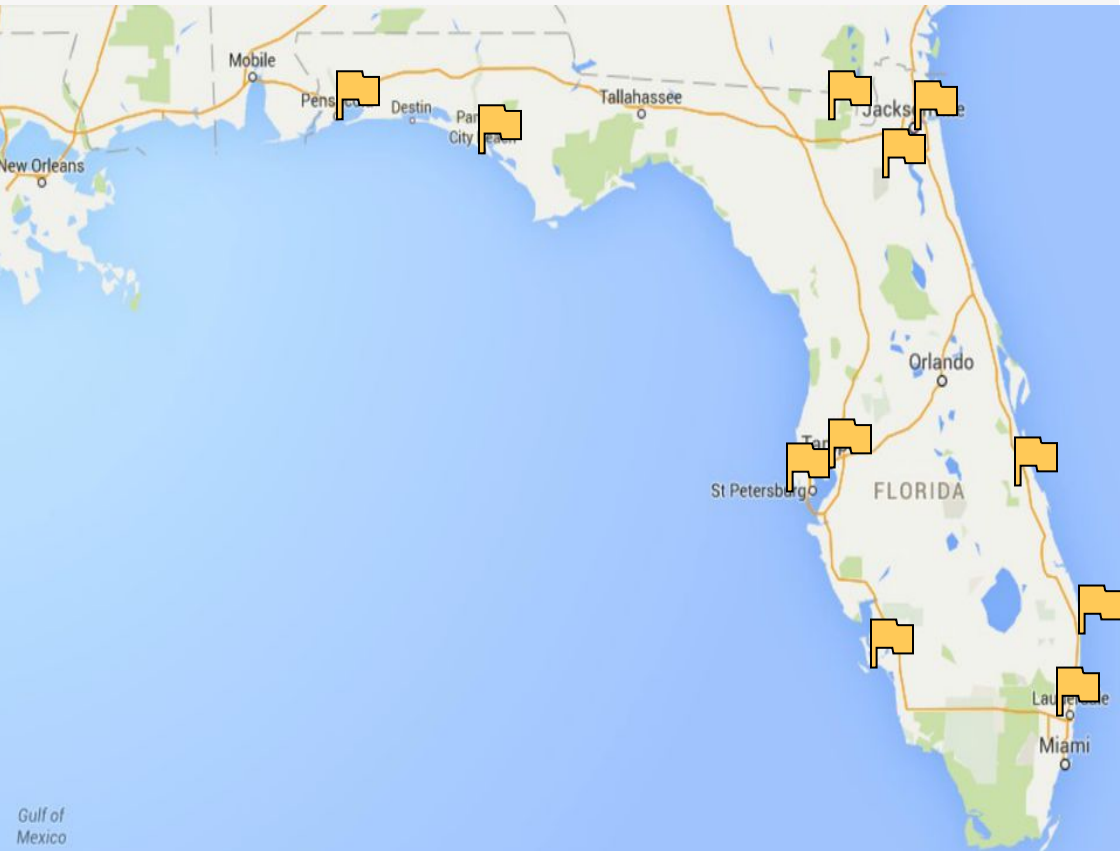
Enter State/Province:

* Landlocked/Excluded States: MT, ND, SD, NE, ID, NV, UT, AZ, OK, AR, TN, KY, MO, KS, CO, IA

Showing Results for: Florida

* Landlocked/Excluded States: MT, ND, SD, NE, ID, NV, UT, AZ, OK, AR, TN, KY, MO, KS, CO, IA

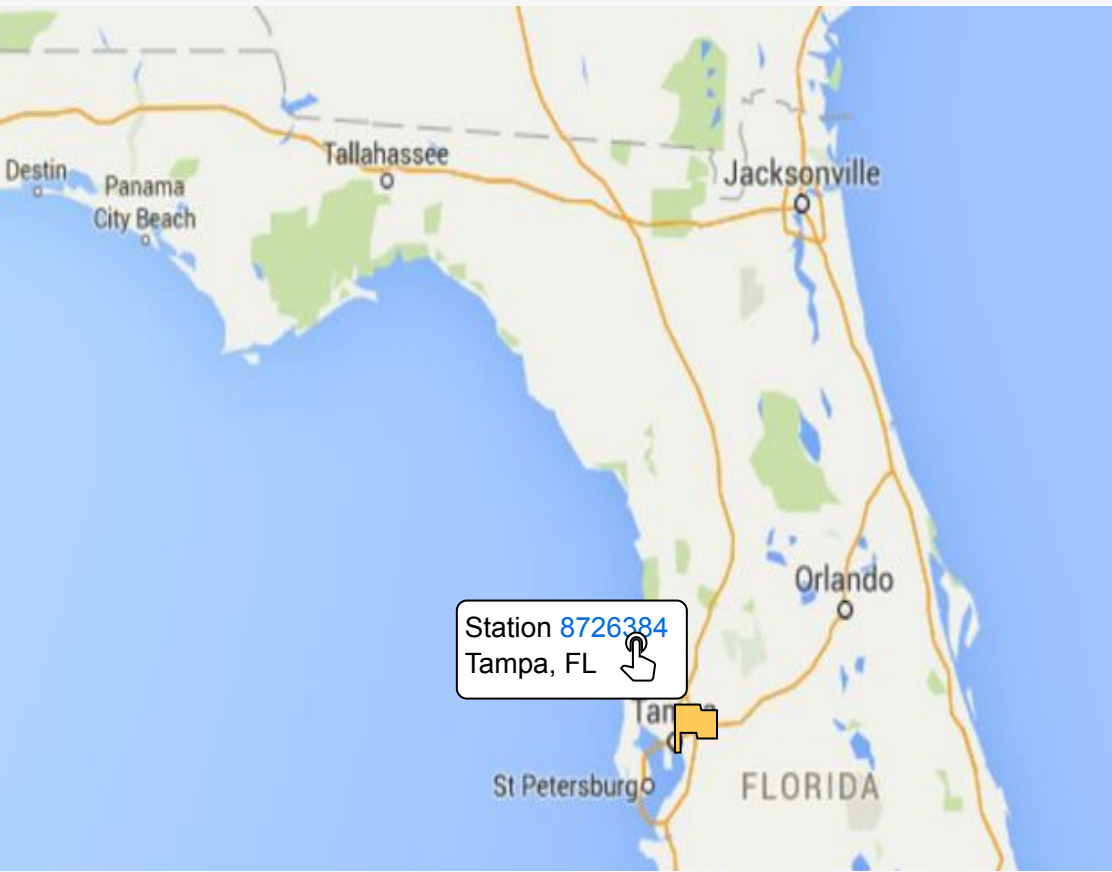
Select your City/Weather Station:



Showing Results for: **Florida**

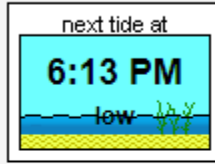
* Landlocked/Excluded States: MT, ND, SD, NE, ID, NV, UT, AZ, OK, AR, TN, KY, MO, KS, CO, IA

Select your City/Weather Station:



Showing Results for: Station 8726384, Tampa, FL

Today's Tides (LST/LDT)



12:44 AM	high	1.73 ft.
3:59 AM	low	1.62 ft.
10:38 AM	high	2.69 ft.
6:13 PM	low	0.21 ft.

Station Established:	Mar 24, 1976
Water Level Max:	2.34 ft. Sep 02, 2016
Water Level Min:	-2.03 ft. Jan 03, 2008
Mean Range:	1.54 ft.
Latitude:	27° 38.3' N
Longitude:	82° 33.8' W
NOAA Chart#:	11146
Met Site Elevation:	7.9 ft. above MSL
Date Removed:	N/A